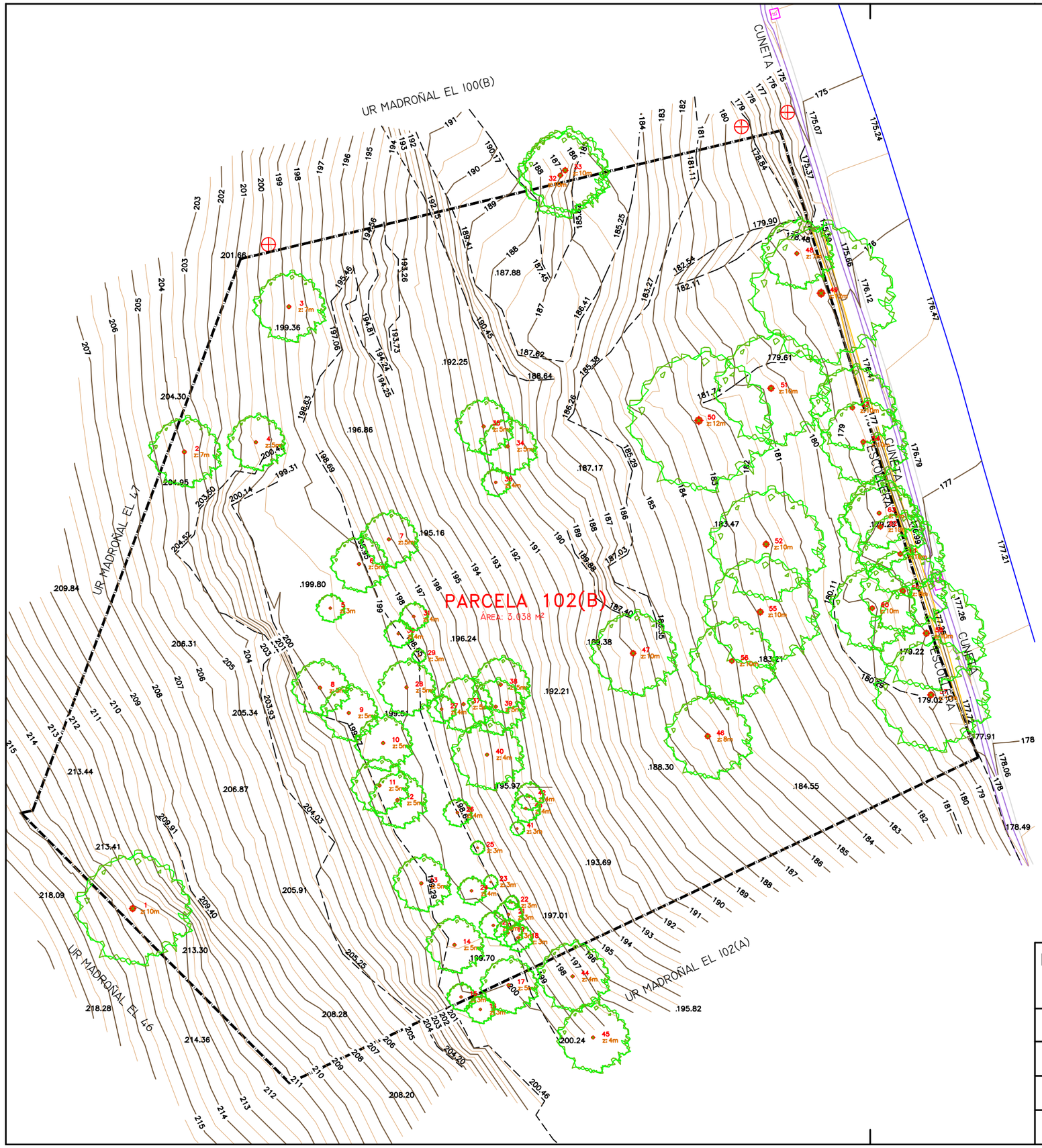

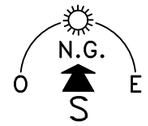

ESCALA GRÁFICA

0 5 10 15 20 25m

NOTA.- SISTEMA DE REFERENCIA ETRS-89
COORDENAS RECTANGULARES PROYECCION U.T.M. HUSO 30
ELIPSOIDE INTERNACIONAL
DATUM POTSDAM
ALTITUDES REFERIDAS AL NIVEL MEDIO DEL MAR EN ALICANTE

SIMBOLOGÍA

- LINDE (CATASTRO)
- BORDILLO
- BORDE ACERADO
- CUNETA
- ESCOLLERA
- LÍNEA DE ROTURA
- CURVAS NIVEL DIRECTORAS
- CURVAS NIVEL NORMALES
- .134.83 PUNTO COTA
- ELECTRICIDAD
- HITO
- TRONCO
- z: 2m ALTURA ÁRBOL
- 1 NUMERACIÓN ÁRBOLES
- ÁRBOL

CUADRO DE ARBOLEDA EXISTENTE

Nº	COORD X	COORD Y	COORD Z	ESPECIE	ø TRONCO (m)	ø COPA(m)	h APROX. (m)
1	320.822.892	4.044.379.015	214.226	pino	40	8	10
2	320.826.660	4.044.412.277	203.987	pino	25	5	7
3	320.834.276	4.044.422.857	198.830	pino	25	5	7
4	320.831.873	4.044.412.982	200.447	pino	20	4	5
5	320.837.296	4.044.400.902	199.535	pino	15	2	3
6	320.839.389	4.044.404.113	199.212	pino	20	4	5
7	320.841.563	4.044.405.911	197.182	pino	20	4	5
8	320.836.543	4.044.395.101	199.987	pino	20	4	5
9	320.838.642	4.044.393.260	199.699	pino	20	4	5
10	320.841.145	4.044.391.072	199.266	pino	20	4	5
11	320.840.878	4.044.387.977	199.385	pino	20	4	5
12	320.842.188	4.044.386.922	199.285	pino	20	4	5
13	320.843.928	4.044.380.850	199.430	pino	20	4	5
14	320.846.343	4.044.376.367	199.437	pino	20	4	5
15	320.846.824	4.044.372.571	200.056	pino	15	2	3
16	320.848.229	4.044.371.667	200.263	pino	15	2	3
17	320.850.285	4.044.373.435	200.009	pino	20	4	5
18	320.851.300	4.044.376.794	198.826	pino	15	2	3
19	320.850.255	4.044.377.239	199.327	pino	15	2	3
20	320.849.174	4.044.377.783	199.412	pino	15	2	3
21	320.850.285	4.044.378.583	198.623	pino	15	2	3
22	320.850.522	4.044.379.449	198.321	pino	10	1	3
23	320.848.985	4.044.380.958	198.554	pino	10	1	3
24	320.847.587	4.044.380.308	198.883	pino	15	2	4
25	320.848.021	4.044.383.441	198.546	pino	10	1	3
26	320.846.557	4.044.386.001	198.686	pino	15	2	4
27	320.845.402	4.044.393.537	198.024	pino	15	2	4
28	320.842.847	4.044.395.126	199.022	pino	20	4	5
29	320.843.745	4.044.397.410	198.599	pino	10	1	3
30	320.842.249	4.044.399.036	198.856	pino	15	2	4
31	320.843.378	4.044.400.297	197.977	pino	15	2	4
32	320.854.064	4.044.432.427	187.063	pino	30	6	10
33	320.854.411	4.044.432.796	186.827	pino	35	6	10
34	320.850.218	4.044.412.684	190.066	pino	20	4	5
35	320.848.470	4.044.414.132	190.965	pino	20	4	5
36	320.849.353	4.044.410.055	190.820	pino	15	2	4
37	320.847.003	4.044.393.901	196.881	pino	20	4	5
38	320.849.715	4.044.395.327	194.881	pino	20	4	5
39	320.849.350	4.044.393.719	195.341	pino	20	4	5
40	320.848.714	4.044.390.222	196.283	encina	20	5	4
41	320.850.916	4.044.384.842	195.893	pino	10	1	3
42	320.851.794	4.044.387.196	194.790	pino	15	2	4
43	320.851.539	4.044.386.306	195.284	pino	15	2	4
44	320.854.949	4.044.374.074	197.723	encina	20	5	4
45	320.856.442	4.044.369.622	199.040	encina	20	5	4
46	320.864.802	4.044.391.563	186.036	pino	35	6	8
47	320.859.363	4.044.397.612	188.052	pino	35	6	10
48	320.871.292	4.044.426.739	178.665	pino	25	5	7
49	320.873.065	4.044.423.842	178.291	pino	50	10	12
50	320.864.150	4.044.414.567	182.872	pino	50	10	12
51	320.869.417	4.044.416.915	180.843	pino	40	8	10
52	320.869.056	4.044.405.552	182.248	pino	40	8	10
53	320.875.340	4.044.415.504	178.496	pino	30	6	10
54	320.876.128	4.044.413.005	178.658	pino	30	6	10
55	320.868.627	4.044.400.621	182.935	pino	40	8	10
56	320.866.556	4.044.397.046	184.162	pino	30	6	10
57	320.881.066	4.044.394.577	179.326	pino	40	8	10
58	320.880.738	4.044.399.071	178.998	pino	40	8	10
59	320.879.016	4.044.402.145	179.241	pino	35	6	8
60	320.876.788	4.044.400.894	180.149	pino	30	6	10
61	320.878.840	4.044.404.847	178.600	pino	30	6	10
62	320.877.391	4.044.406.826	178.736	pino	30	6	10
63	320.877.289	4.044.407.823	178.696	pino	25	5	7

*NOTA: LA PARCELA EL DIA DE LA MEDICION ESTABA SIN DESBROZAR

MEDICION EN PARCELA UR EL MADROÑAL 102(B), EN EL T.M. DE BENAHAVÍS (MÁLAGA)

HOJA Nº I

EXPDTE. Nº 25198

ALTIMETRÍA ACTUAL

ESCALA: 1/ 300

ORIGINAL A.3

NOVIEMBRE 2025

EL T.S. EN DESARROLLO DE PR. URB. Y OP. TOPOGRÁFICAS:
COLEGIADO 1.990 (CODTA):

FDO. Juan Antº Marmolejo Ríos
jupaltopo@hotmail.com F: 952 452 696 - M:655 263 463

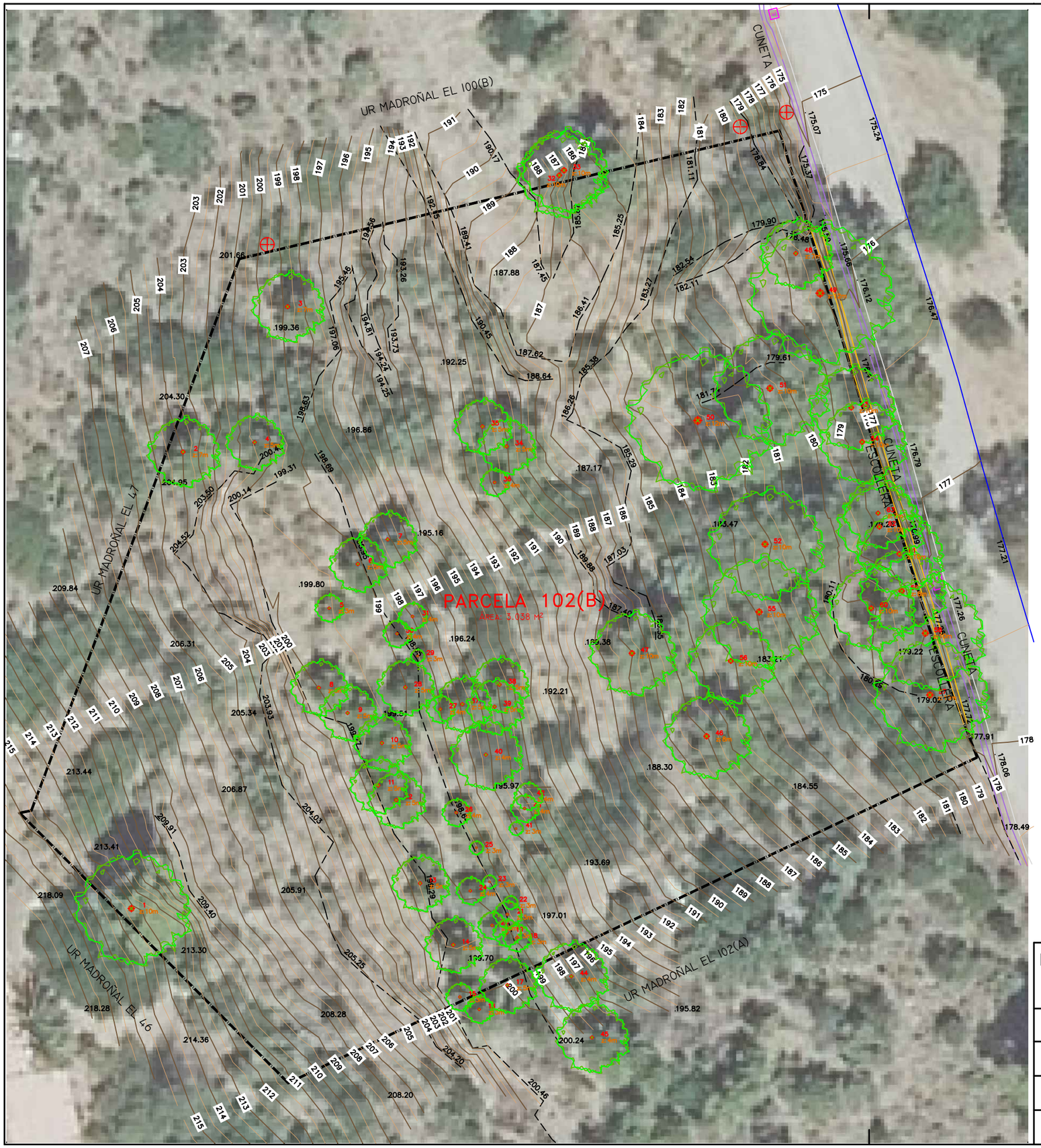

N.G.
O E
S

ESCALA GRÁFICA

0 5 10 15 20 25m

NOTA.- SISTEMA DE REFERENCIA ETRS-89
COORDENAS RECTANGULARES PROYECCION U.T.M. HUSO 30
ELIPSOIDE INTERNACIONAL
DATUM POTSDAM
ALTITUDES REFERIDAS AL NIVEL MEDIO DEL MAR EN ALICANTE

SIMBOLOGÍA

- LINDE (CATASTRO)
- BORDILLO
- BORDE ACERADO
- CUNETA
- ESCOLLERA
- LÍNEA DE ROTURA
- CURVAS NIVEL DIRECTORAS
- CURVAS NIVEL NORMALES
- .134.83 PUNTO COTA
- E ELECTRICIDAD
- HITO
- TRONCO
- z: 2m ALTURA ÁRBOL
- 1 NUMERACIÓN ÁRBOLES
- ÁRBOL

*NOTA: LA PARCELA EL DIA DE LA MEDICION ESTABA SIN DESBROZAR

CUADRO DE ARBOLEDA EXISTENTE

Nº	COORD X	COORD Y	COORD Z	ESPECIE	ø TRONCO (m)	ø COPA(m)	h APROX. (m)
1	320.822.892	4.044.379.015	214.226	pino	40	8	10
2	320.826.660	4.044.412.277	203.987	pino	25	5	7
3	320.834.276	4.044.422.857	198.830	pino	25	5	7
4	320.831.873	4.044.412.982	200.447	pino	20	4	5
5	320.837.296	4.044.400.902	199.535	pino	15	2	3
6	320.839.389	4.044.404.113	199.212	pino	20	4	5
7	320.841.563	4.044.405.911	197.182	pino	20	4	5
8	320.836.543	4.044.395.101	199.987	pino	20	4	5
9	320.838.642	4.044.393.260	199.699	pino	20	4	5
10	320.841.145	4.044.391.072	199.266	pino	20	4	5
11	320.840.878	4.044.387.977	199.385	pino	20	4	5
12	320.842.188	4.044.386.922	199.285	pino	20	4	5
13	320.843.928	4.044.380.850	199.430	pino	20	4	5
14	320.846.343	4.044.376.367	199.437	pino	20	4	5
15	320.846.824	4.044.372.571	200.056	pino	15	2	3
16	320.848.229	4.044.371.667	200.263	pino	15	2	3
17	320.850.285	4.044.373.435	200.009	pino	20	4	5
18	320.851.300	4.044.376.794	198.826	pino	15	2	3
19	320.850.255	4.044.377.239	199.327	pino	15	2	3
20	320.849.174	4.044.377.783	199.412	pino	15	2	3
21	320.850.285	4.044.378.583	198.623	pino	15	2	3
22	320.850.522	4.044.379.449	198.321	pino	10	1	3
23	320.848.985	4.044.380.958	198.554	pino	10	1	3
24	320.847.587	4.044.380.308	198.883	pino	15	2	4
25	320.848.021	4.044.383.441	198.546	pino	10	1	3
26	320.846.557	4.044.386.001	198.686	pino	15	2	4
27	320.845.402	4.044.393.537	198.024	pino	15	2	4
28	320.842.847	4.044.395.126	199.022	pino	20	4	5
29	320.843.745	4.044.397.410	198.599	pino	10	1	3
30	320.842.249	4.044.399.036	198.856	pino	15	2	4
31	320.843.378	4.044.400.297	197.977	pino	15	2	4
32	320.854.064	4.044.432.427	187.063	pino	30	6	10
33	320.854.411	4.044.432.796	186.827	pino	35	6	10
34	320.850.218	4.044.412.684	190.066	pino	20	4	5
35	320.848.470	4.044.414.132	190.965	pino	20	4	5
36	320.849.353	4.044.410.055	190.820	pino	15	2	4
37	320.847.003	4.044.393.901	196.881	pino	20	4	5
38	320.849.715	4.044.395.327	194.881	pino	20	4	5
39	320.849.350	4.044.393.719	195.341	pino	20	4	5
40	320.848.714	4.044.390.222	196.283	encina	20	5	4
41	320.850.916	4.044.384.842	195.893	pino	10	1	3
42	320.851.794	4.044.387.196	194.790	pino	15	2	4
43	320.851.539	4.044.386.306	195.284	pino	15	2	4
44	320.854.949	4.044.374.074	197.723	encina	20	5	4
45	320.856.442	4.044.369.622	199.040	encina	20	5	4
46	320.864.802	4.044.391.563	186.036	pino	35	6	8
47	320.859.363	4.044.397.612	188.052	pino	35	6	10
48	320.871.292	4.044.426.739	178.665	pino	25	5	7
49	320.873.065	4.044.423.842	178.291	pino	50	10	12
50	320.864.150	4.044.414.567	182.872	pino	50	10	12
51	320.869.417	4.044.416.915	180.843	pino	40	8	10
52	320.869.056	4.044.405.552	182.248	pino	40	8	10
53	320.875.340	4.044.415.504	178.496	pino	30	6	10
54	320.876.128	4.044.413.005	178.658	pino	30	6	10
55	320.868.627	4.044.400.621	182.935	pino	40	8	10
56	320.866.556	4.044.397.046	184.162	pino	30	6	10
57	320.881.066	4.044.394.577	179.326	pino	40	8	10
58	320.880.738	4.044.399.071	178.998	pino	40	8	10
59	320.879.016	4.044.402.145	179.241	pino	35	6	8
60	320.876.788	4.044.400.894	180.149	pino	30	6	10
61	320.878.840	4.044.404.847	178.600	pino	30	6	10
62	320.877.391	4.044.406.826	178.736	pino	30	6	10
63	320.877.289	4.044.407.823	178.696	pino	25	5	7

MEDICION EN PARCELA UR EL MADROÑAL 102(B), EN EL T.M. DE BENAHAVÍS (MÁLAGA)

HOJA Nº 2

EXPDTE. Nº 25198

ALTIMETRÍA ACTUAL - MONTAJE CON ORTOFOTO MÁXIMA ACTUALIDAD (WMS)

ESCALA: 1/ 300

ORIGINAL A.3

NOVIEMBRE 2025

EL T.S. EN DESARROLLO DE PR. URB. Y OP. TOPOGRÁFICAS:
COLEGIADO 1.990 (CODTA):

FDO. Juan Antº Marmolejo Ríos
jupaltopo@hotmail.com F: 952 452 696 - M:655 263 463

JM